Renate Zhang

# Wayfinding in Urban Travel Scenario

# Digital Wayfinding

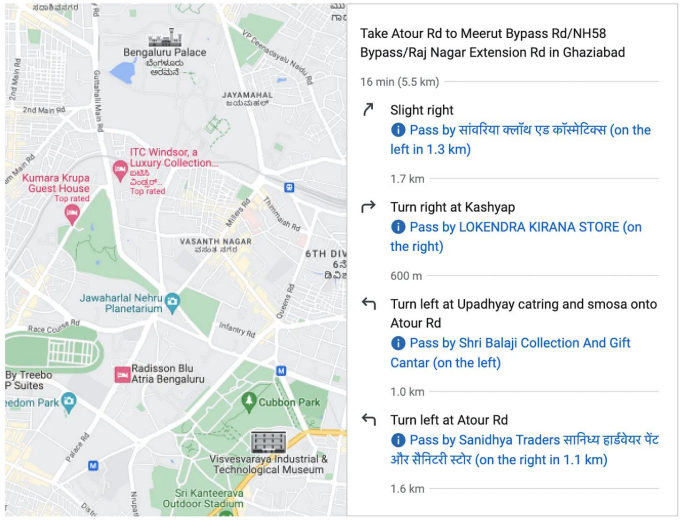




https://elizlaraki.substack.com/p/google-maps-ux-the-india-conundrum
https://t4.ftcdn.net/jpg/05/91/55/15/360_F_591551514_7GG34lzlkRZYzysNQfwkxkCgXalv835w.jpg

# Wayfinding Signs

- Arbitrary placement, no anticipation
- Where to place them?
- How many?

How does the **placement** of wayfinding maps influence navigation performance?

https://soofadigital.com/blog/enhancing-urban-navigation-benefits-of-wayfinding-maps-on-soofa-signs
https://elizlaraki.substack.com/p/google-maps-ux-the-india-conundrum

# Task

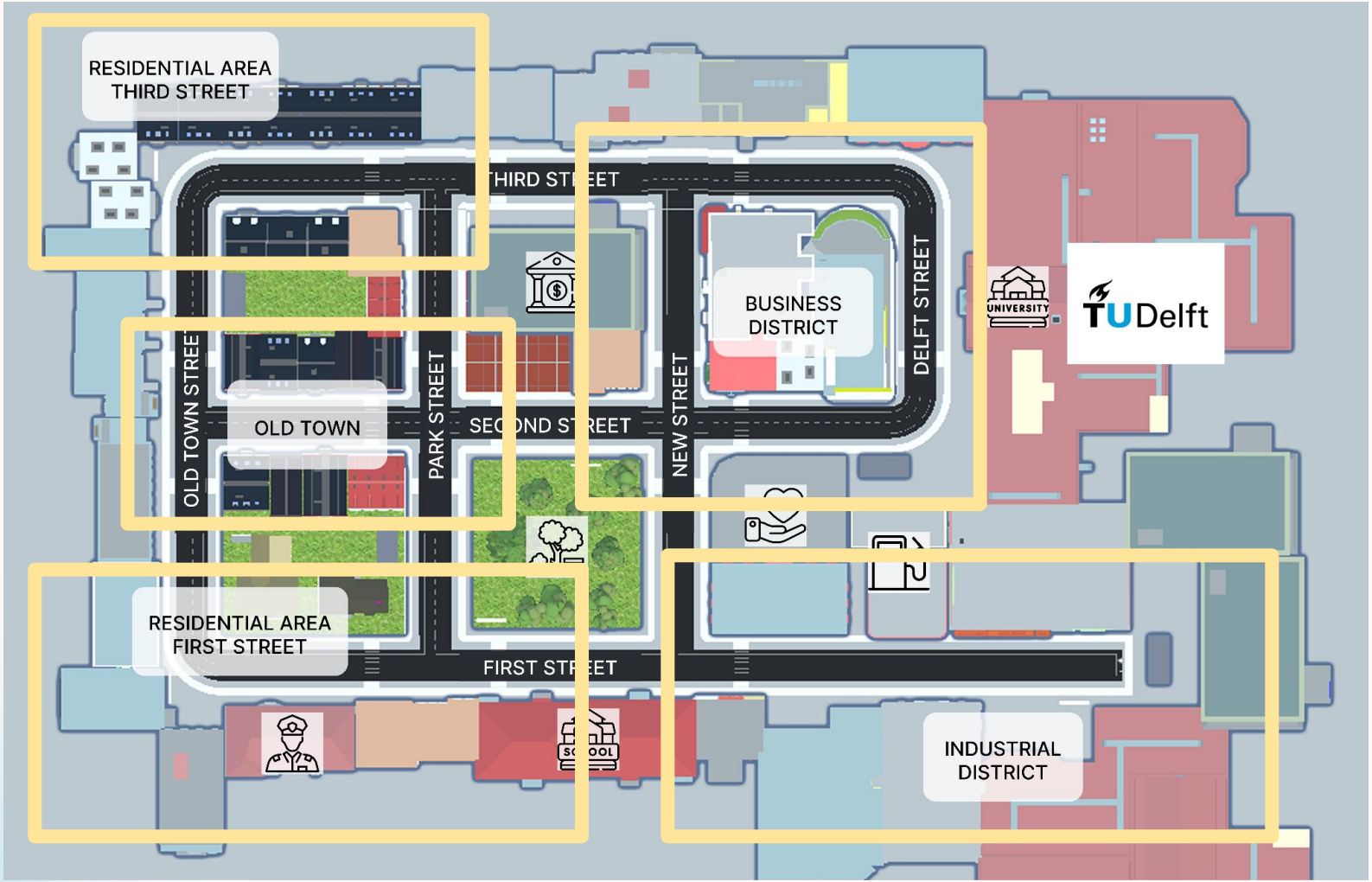
RESIDENTIAL AREA
THIRD STREET
THIRD STREET
BUSINESS
DISTRICT
DELFT STREET
UNIVERSITY
TUDelft
OLD TOWN STREET
OLD TOWN
PARK STREET
SECOND STREET
NEW STREET
RESIDENTIAL AREA
FIRST STREET
FIRST STREET
SCHOOL
INDUSTRIAL
DISTRICT

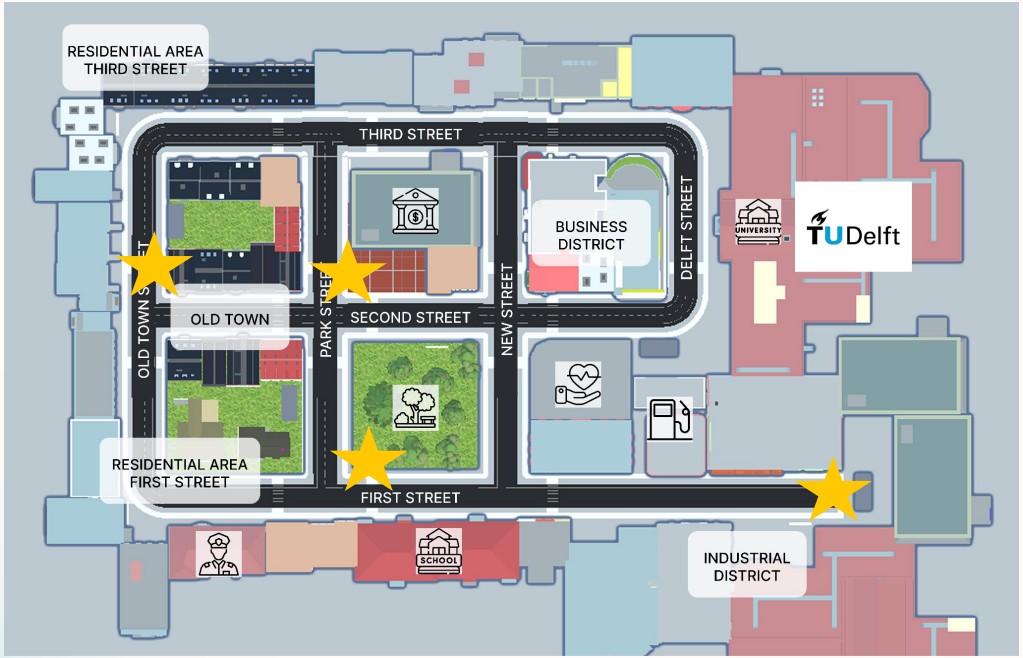


- Place Wayfinding Maps
  - *Prominent Landmarks*
  - Only at Start
  - Every intersection
- Let Participant find end goal without external help

- Place Wayfinding Maps
  - *Prominent Landmarks*
  - Only at Start
  - Every intersection
- Let Participant find end goal without external help

- Track Route and Time
- Head orientation (Attention)
- Cognitive Load, Usability
- *Which Wayfinding Map was used the most?*

# Wayfinding Signs

How does the **placement** of wayfinding maps influence navigation performance?

https://soofadigital.com/blog/enhancing-urban-navigation-benefits-of-wayfinding-maps-on-soofa-signs
https://elizlaraki.substack.com/p/google-maps-ux-the-india-conundrum

# Outlook

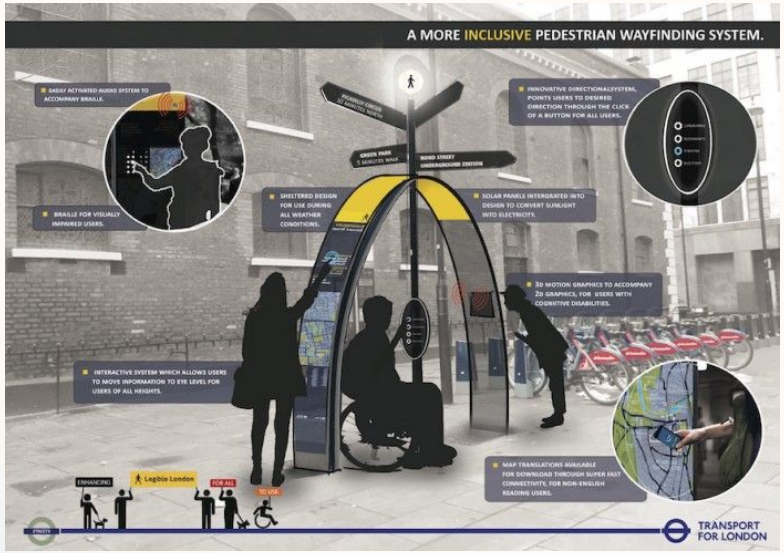


Deborah Abidakun, De Montfort University

How does the **content and modality** of wayfinding maps influence navigation performance?

https://www.right-hear.com/whose-line-is-it-anyway/
https://www.designindaba.com/articles/creative-work/enabled-design-way-finding-system-considers-disabled

# Demo

# Thanks!